欧洲地图合作拼图

请按照以下步骤，引导学生共同完成一幅富有创意与团队精神的班级合作地图，为教室展示墙或学校走廊增添色彩。

将资源打印在普通纸或卡纸上。

裁剪掉每页的边缘部分。

给每位学生分配一块拼图页，让他们自由选择绘图工具（如蜡笔、水彩笔、彩色铅笔、颜料或粉彩等）为拼图块进行上色。

根据页面编号和整体参考图，将所有拼图块拼接组装，完成最终作品。

免责声明：我们希望您在我们的网站和资源中找到的信息对您有所帮助。我们尽可能确保本资源的内容符合当前的专业研究标准。然而，请注意地图上的国界、首都、国旗以及官方语言等信息可能存在争议，且可能随时发生变动。此处提供的信息仅供一般性教学参考，实际使用时可能需要根据您的学生需求进行适当调整。

1

2

0

3

4

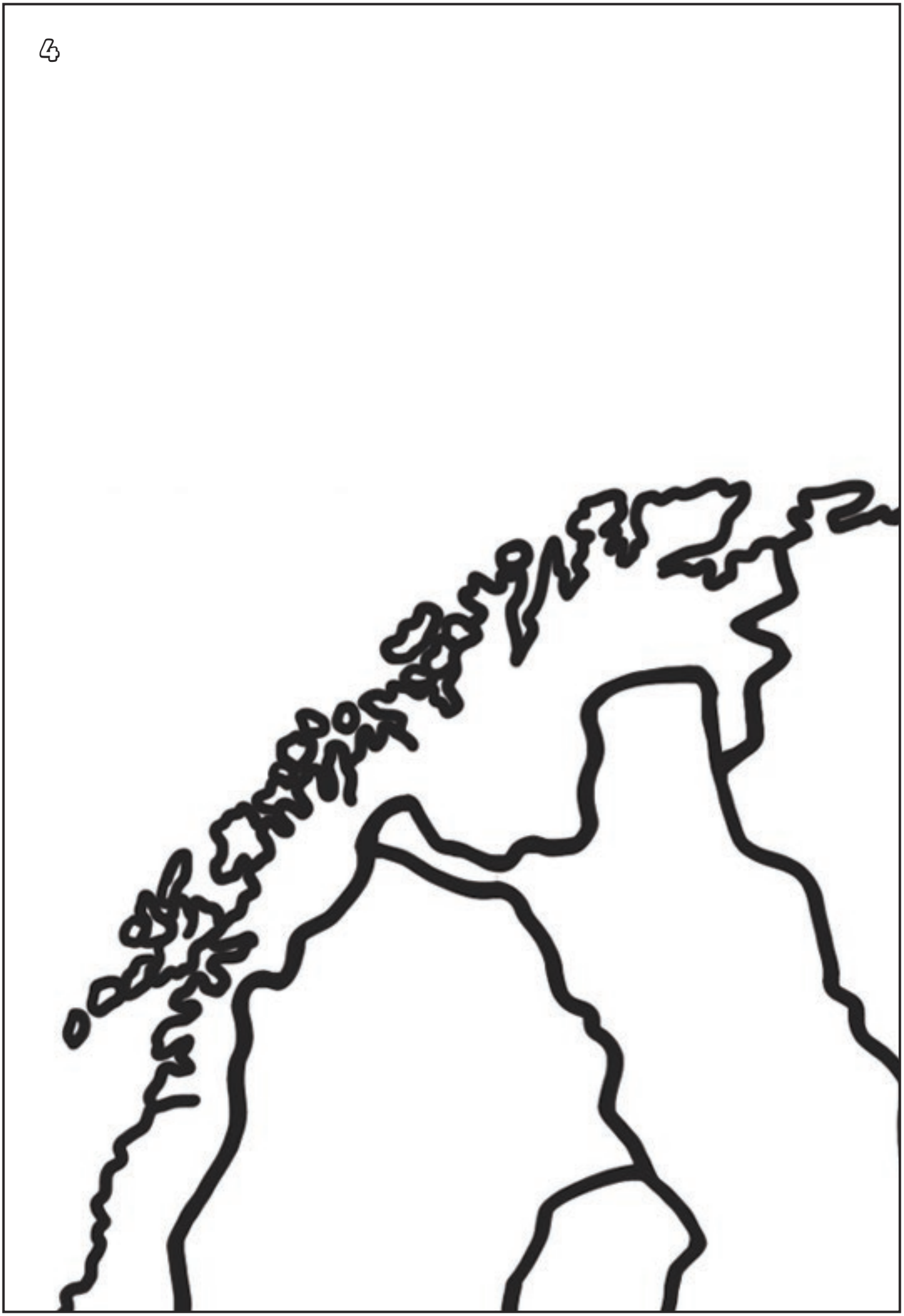

5



6




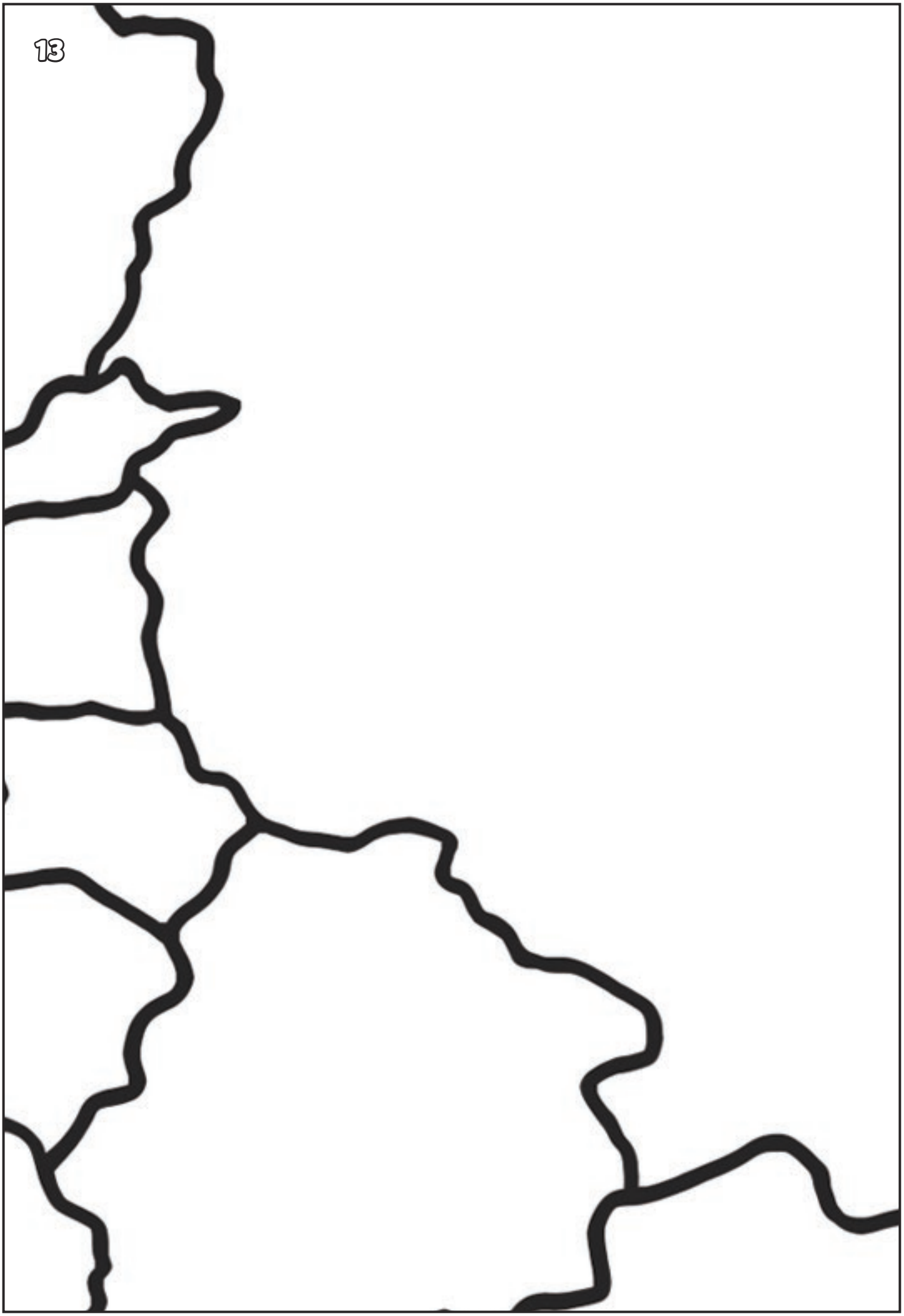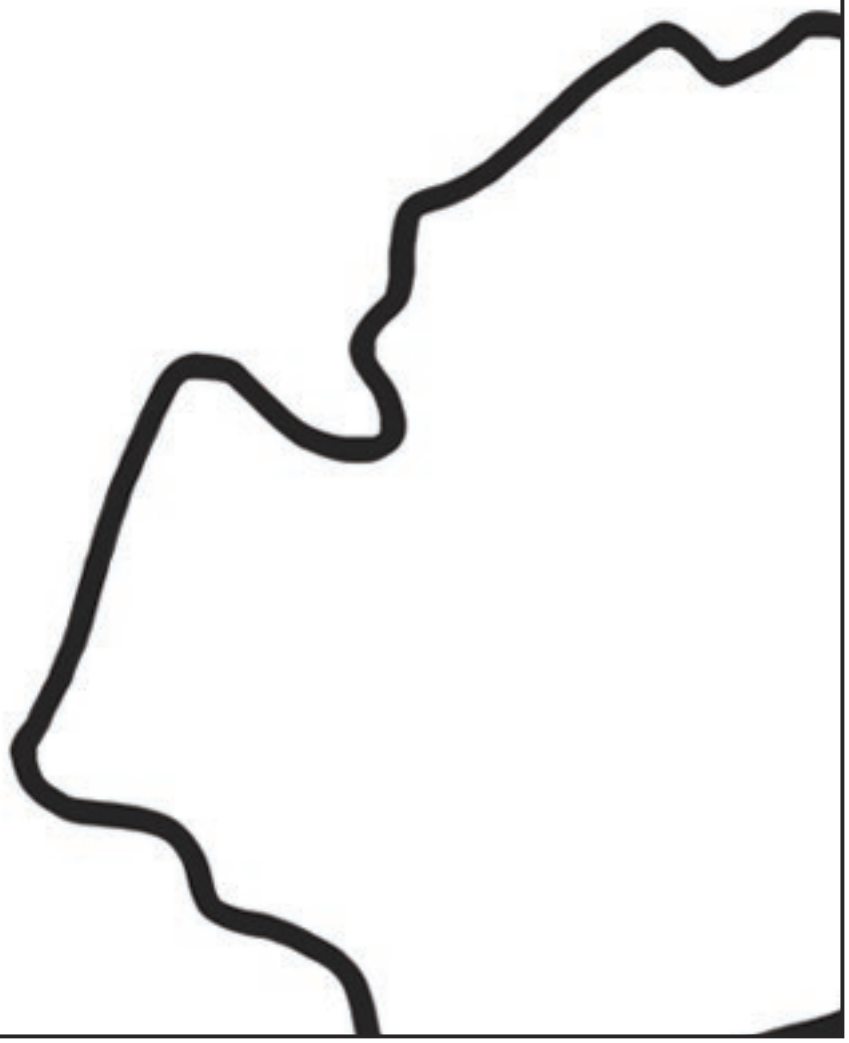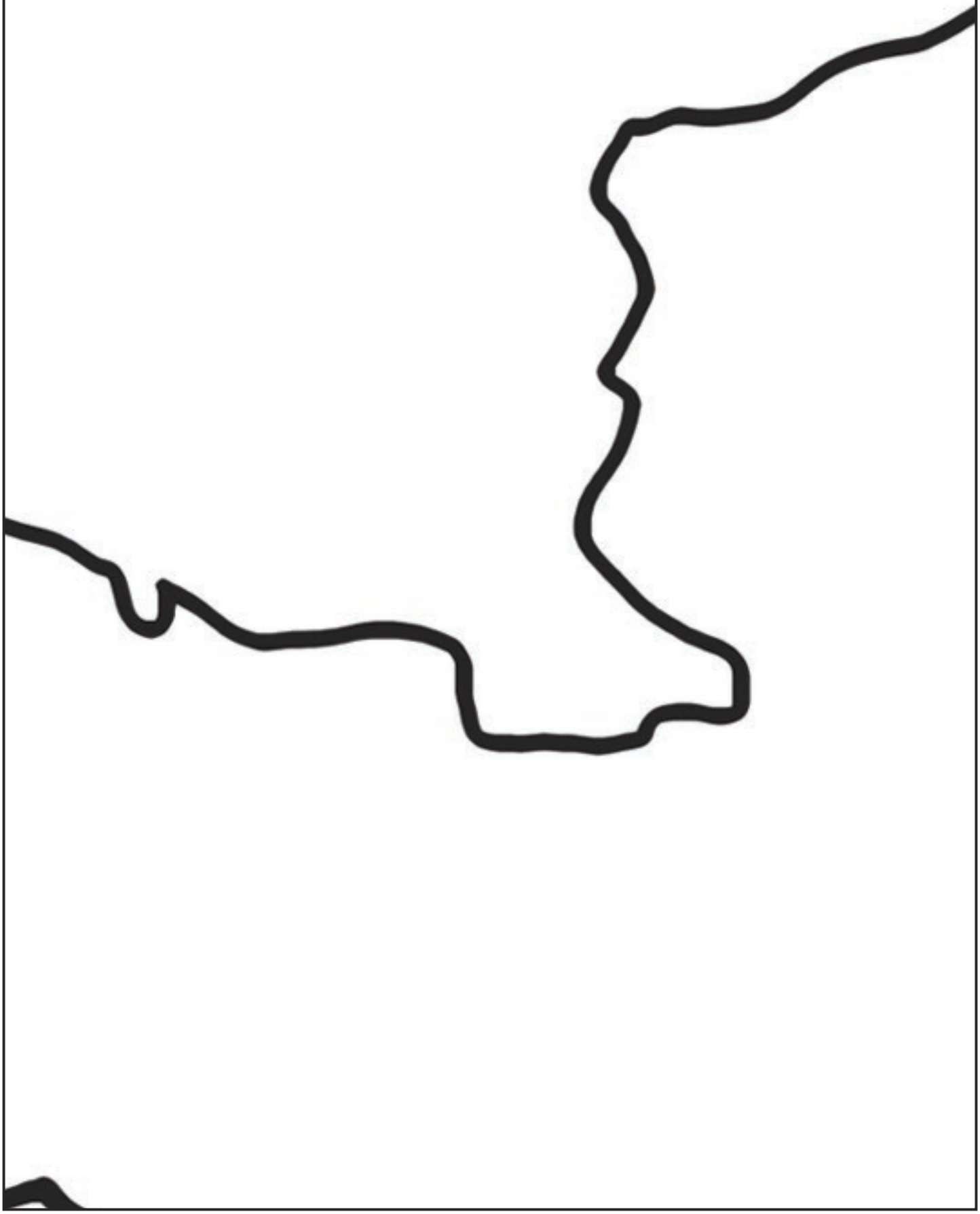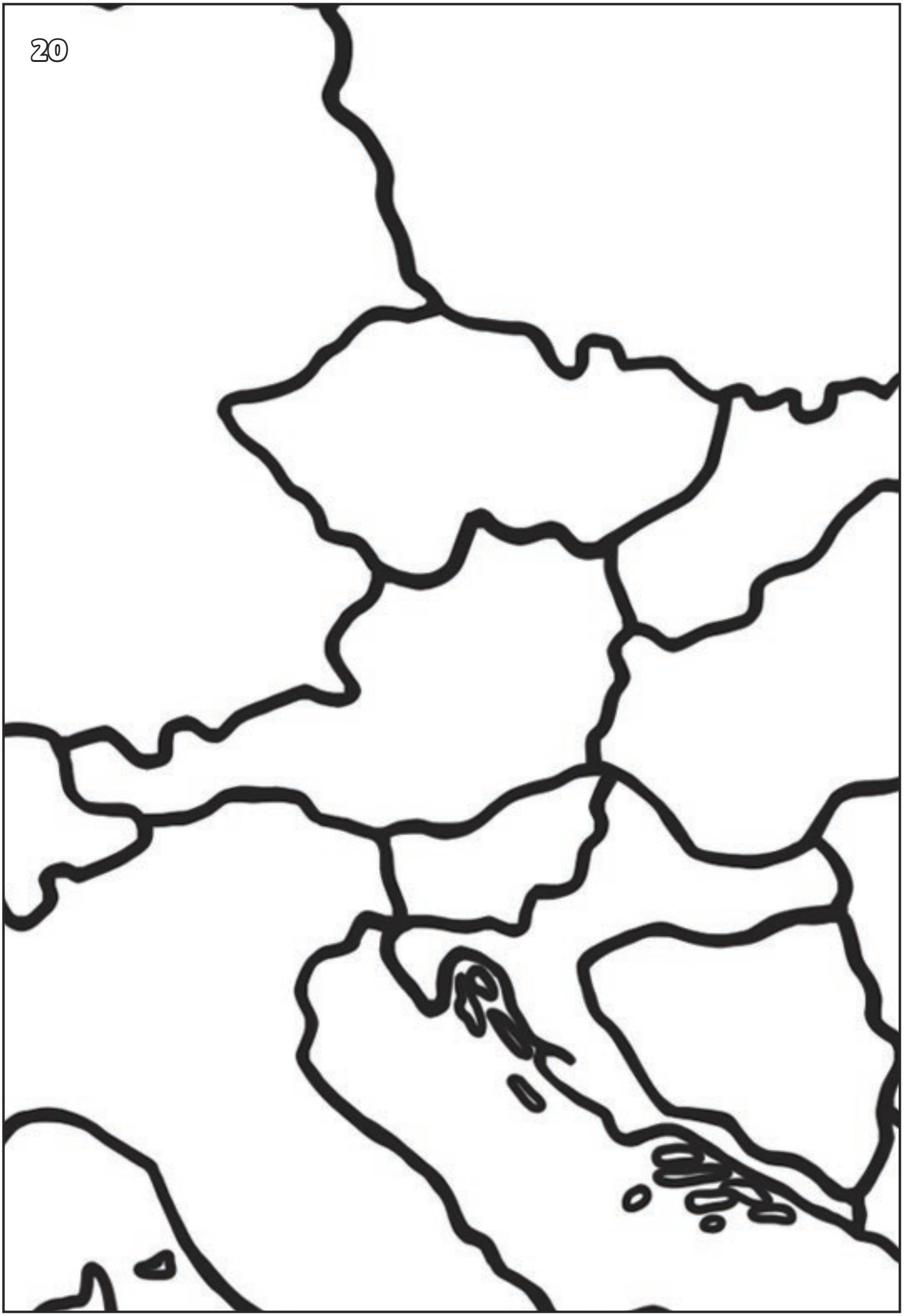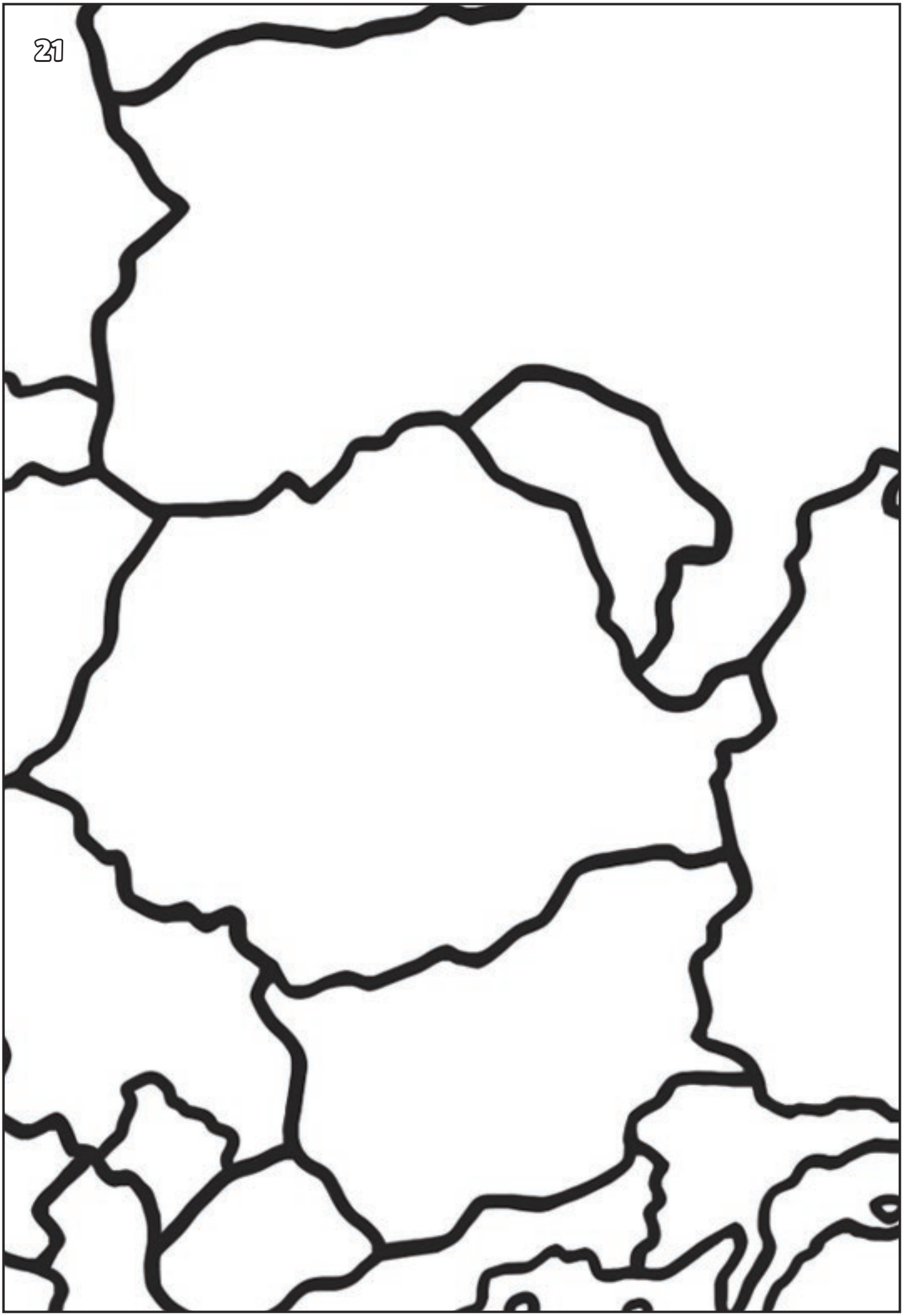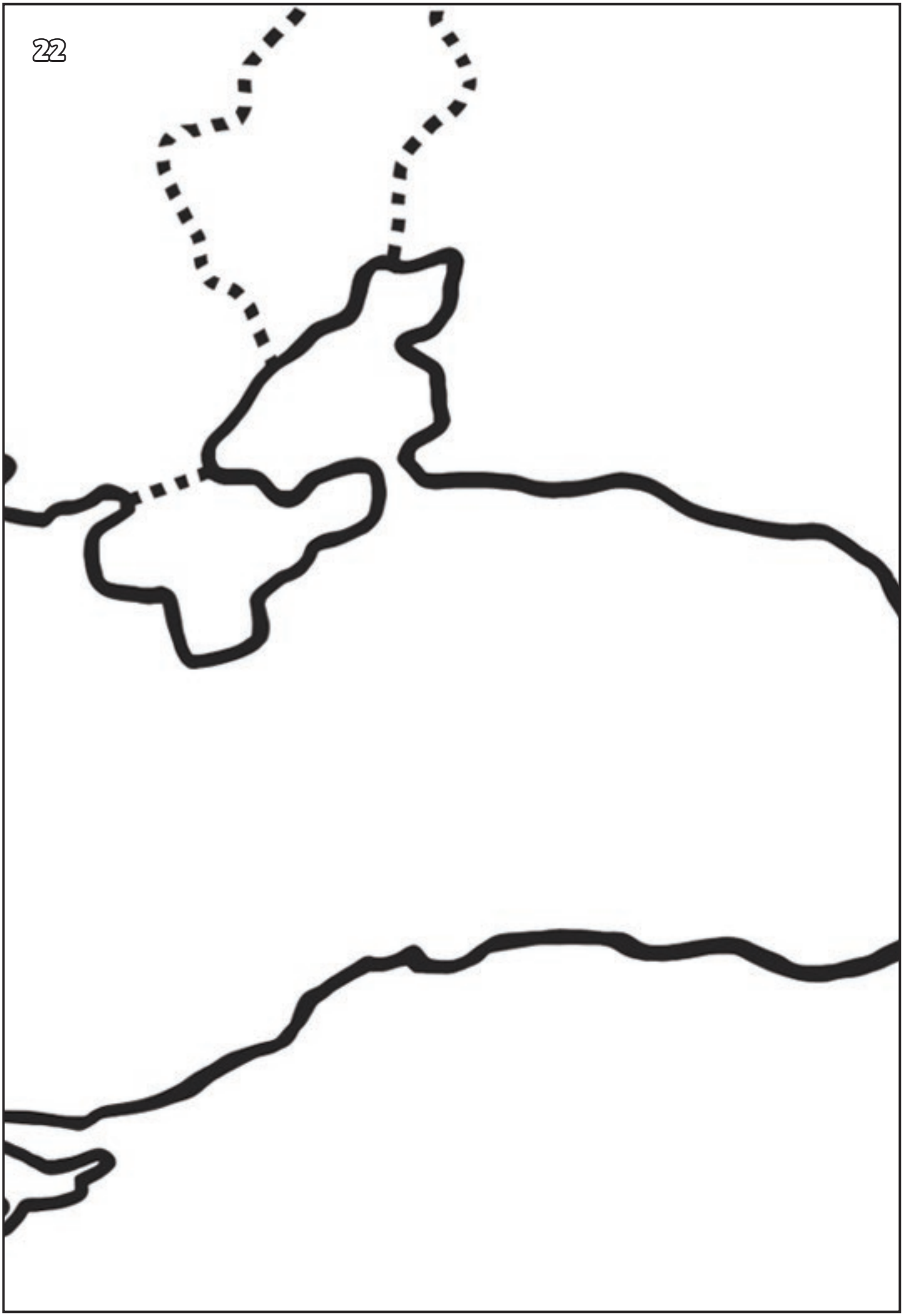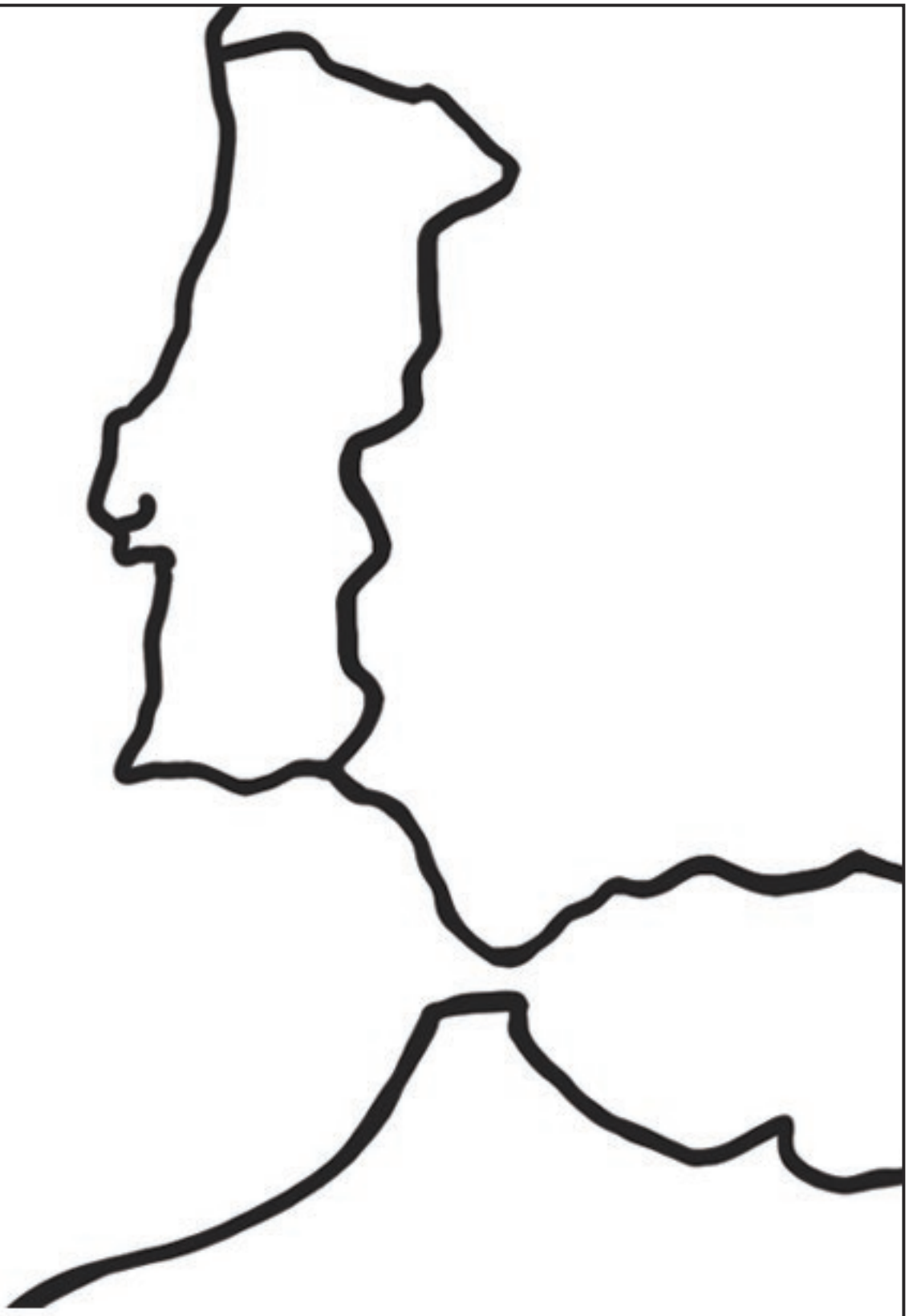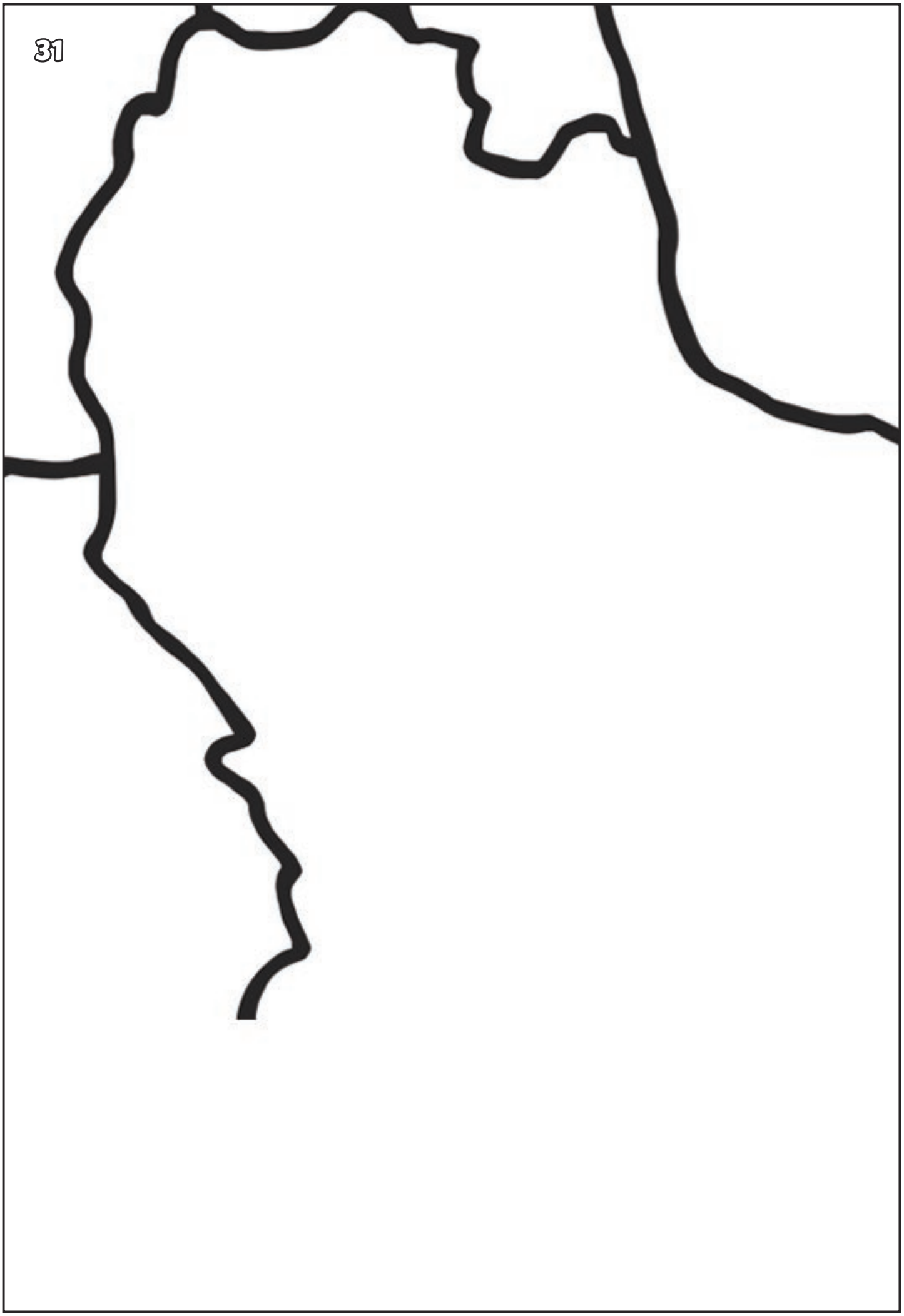
8